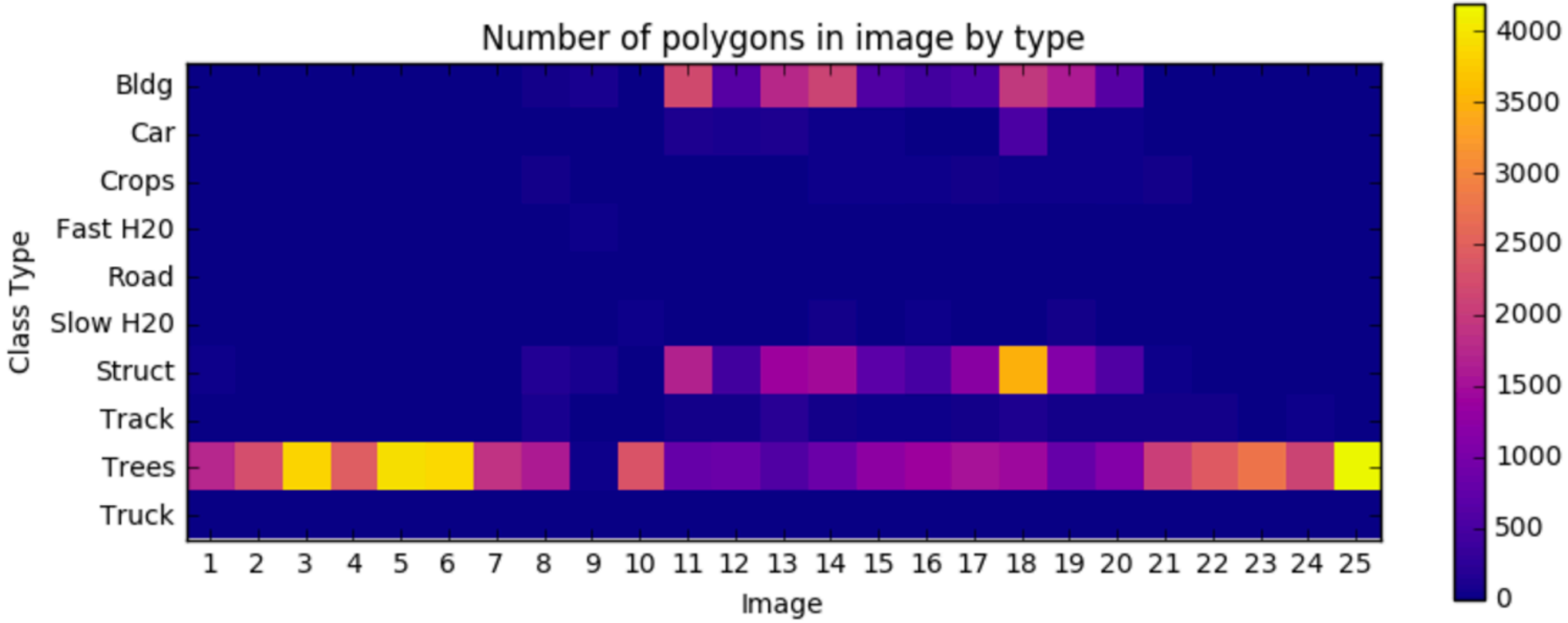
Number of polygons in image by type
Class Type
Bldg
Car
Crops
Fast H20
Road
Slow H20
Struct
Track
Trees
Truck
1 2 3 4 5 6 7 8 9 10 11 12 13 14 15 16 17 18 19 20 21 22 23 24 25
Image
4000
3500
3000
2500
2000
1500
1000
500
0

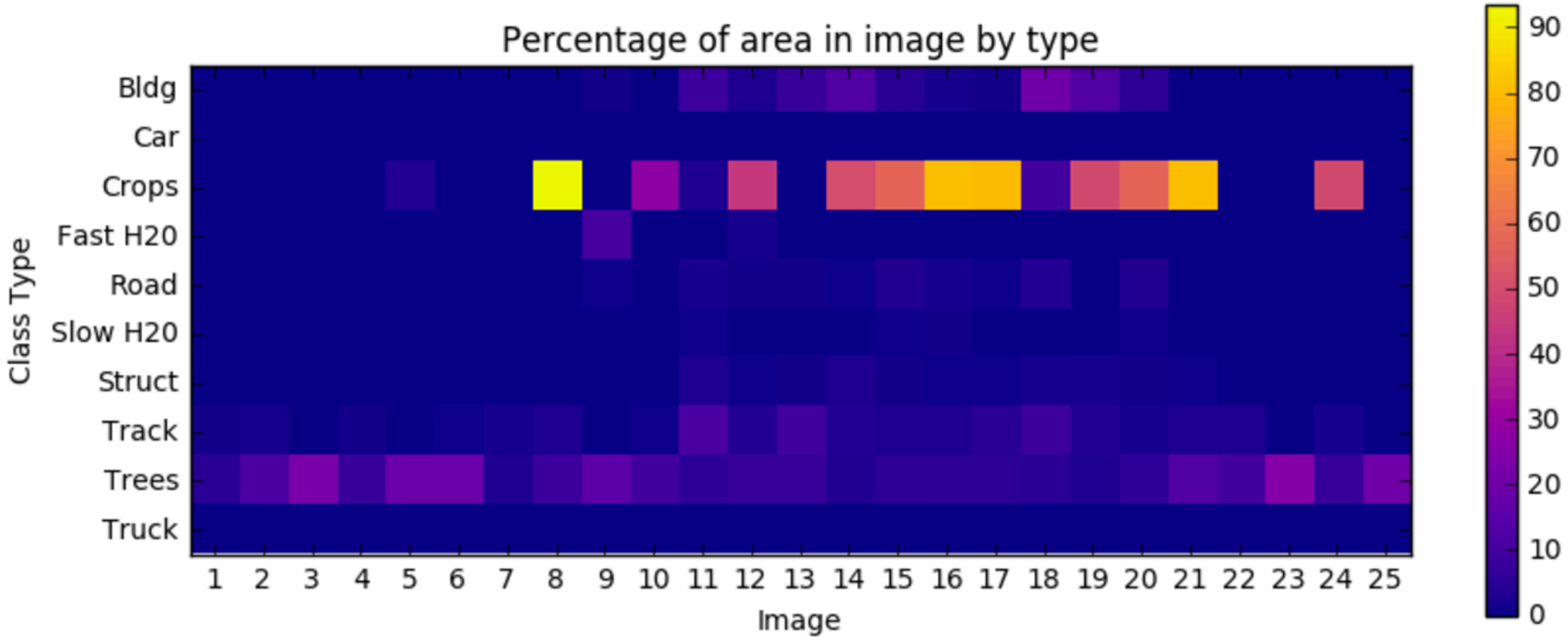
Percentage of area in image by type
Bldg
Car
Crops
Fast H20
Road
Slow H20
Struct
Track
Trees
Truck
Class Type
1 2 3 4 5 6 7 8 9 10 11 12 13 14 15 16 17 18 19 20 21 22 23 24 25
Image
90
80
70
60
50
40
30
20
10
0

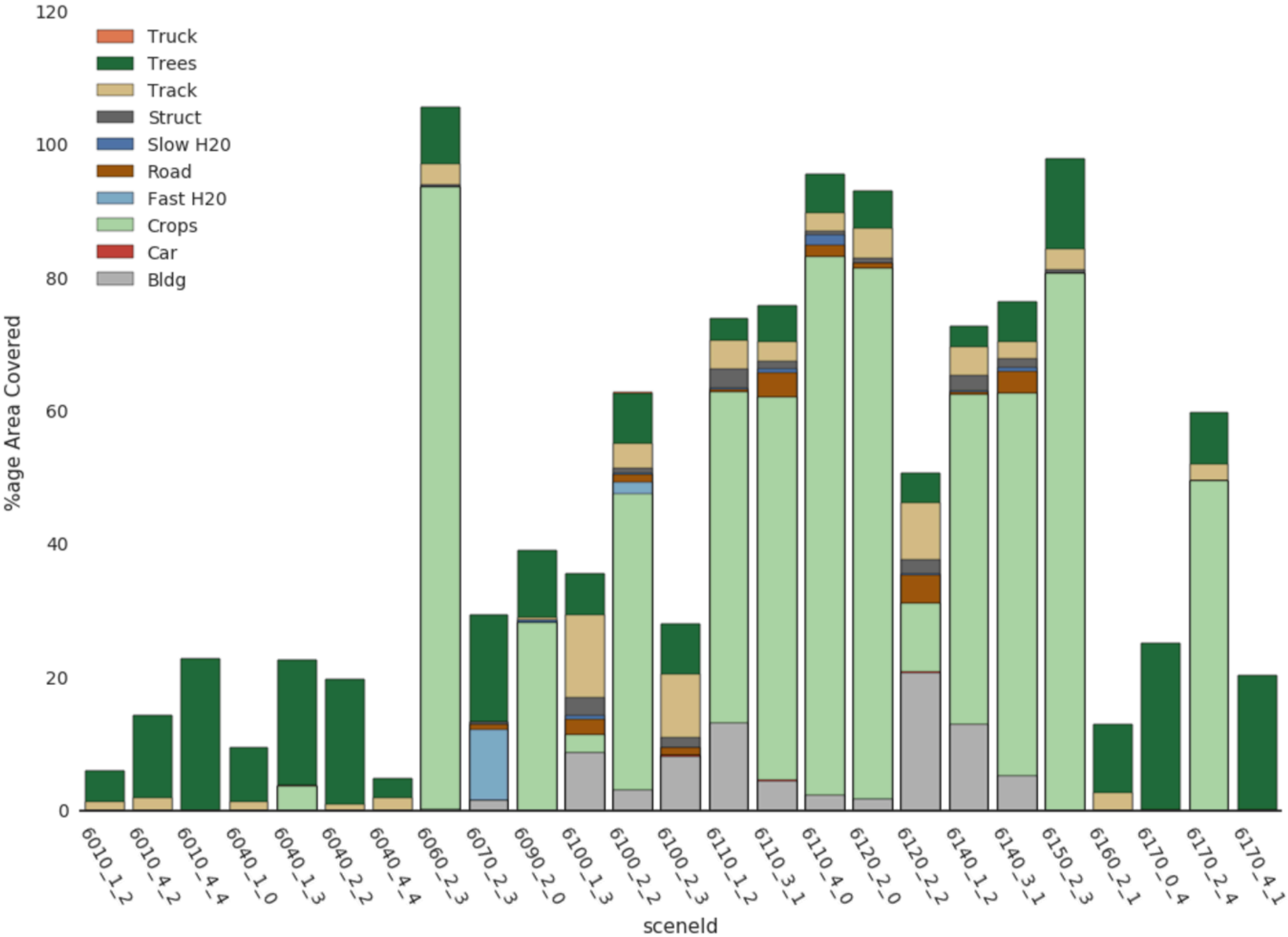
Truck
Trees
Track
Struct
Slow H20
Road
Fast H20
Crops
Car
Bldg
%age Area Covered
0
20
40
60
80
100
120
6010_1_2
6010_4_2
6010_4_4
6040_1_0
6040_1_3
6040_2_2
6040_4_4
6060_2_3
6070_2_3
6090_2_0
6100_1_3
6100_2_2
6100_2_3
6110_1_2
6110_3_1
6110_4_0
6120_2_0
6120_2_2
6140_1_2
6140_3_1
6150_2_3
6160_2_1
6170_0_4
6170_2_4
6170_4_1
sceneId